AirLume: Physics-Based Lightning Prediction System for Aviation Safety

1.0 Introduction

AirLume is a physics-based aircraft lightning strike prediction system designed and built on the basis of operational efficiency, prediction accuracy, and safety compliance in order to provide precise lightning strike forecasting along specific flight routes. The end goal is to reduce aviation industry costs by enabling optimized route planning that minimizes lightning exposure while maintaining operational efficiency.

The aviation industry currently faces significant challenges with lightning strike management, with airlines experiencing approximately $2 billion annually in mandatory post-strike inspection costs across the industry [2][3]. Commercial aircraft are struck by lightning an average of 1-2 times per year [1], requiring costly inspections regardless of the effectiveness of onboard protection systems. While modern aircraft employ Faraday cage designs that protect passengers and critical systems during strikes, these protection systems do not prevent strikes from occurring or eliminate the subsequent inspection requirements.

As part of current flight planning procedures, aircraft must navigate around weather systems using broad-area weather avoidance, often requiring detours of 100+ miles around entire storm systems. This approach results in massive flight delays, increased fuel consumption, and inefficient airspace utilization. The reactive nature of existing lightning detection systems, which only identify strikes after they occur, provides no predictive capability for route optimization. The growing air traffic volume combined with climate change creating more frequent and intense thunderstorms is making traditional broad-area avoidance increasingly expensive and operationally challenging.

Adding to existing challenges, aviation faces a critical threat from lightning strikes occurring in clear weather conditions. Analysis of aviation lightning incidents reveals that 63% of lightning strikes occurred in weather that flight crews did not associate with adverse weather threats [8]. Aircraft have been struck while flying in clear air up to 25 miles from the nearest precipitation radar return, demonstrating that traditional weather avoidance strategies are insufficient for lightning risk mitigation [8].

This clear weather lightning phenomenon renders current broad-area weather avoidance inadequate, as flight crews cannot rely solely on visible storm indicators to assess lightning risk. AirLume's physics-based approach addresses this gap by analyzing atmospheric electrical conditions rather than relying on visible weather phenomena, providing predictive capability for this invisible threat.

To be considered a success, AirLume must:

- Achieve 80%+ accuracy in lightning formation prediction validated against historical data

- Successfully integrate multiple weather APIs (NASA POWER, NOAA, OpenWeatherMap) with 15–20-minute update intervals
- Demonstrate 10-15% improvement in routing efficiency while maintaining safety standards
- Provide route-specific lightning risk assessment using plasma physics calculations (Paschen's Law, Townsend Avalanche algorithms) [6] [7]
- Process real-time atmospheric data including temperature, humidity, pressure, and electromagnetic field measurements
- Generate intuitive visual displays accessible to pilots and flight planners without physics backgrounds
- Implement multi-altitude risk profiling for different flight levels (20k, 30k, 40k ft)
- Operate as a web-based enterprise application accessible to flight planning departments through standard browsers
- Integrate seamlessly with existing flight planning workflows
- Support future aviation certification requirements and regulatory compliance
- Provide cost-benefit analysis showing fuel savings versus risk reduction
- Process data from continental flight routes using publicly available weather sources

Chapter 1 of this report consists of the introduction, which outlines the purpose, context, and goals of the project. Chapter 2 evaluates the various technical approaches and algorithms that were considered for lightning prediction. Chapter 3 consists of a technical description of the plasma physics models, weather data integration systems, and software architecture components. Chapter 4 consists of the calculations, testing methodologies, and validation processes carried out during development. Chapter 5 contains descriptions of the modifications and optimizations made during implementation and testing. Chapter 6 discusses the results of prediction accuracy testing compared to the criteria outlined above, as well as recommendations for future enhancements. Chapter 7 consists of the conclusion.

Once implemented, AirLume will enable airlines and flight planning organizations to make more informed routing decisions based on precise lightning risk assessment rather than broad-area weather avoidance. This capability will allow for more efficient flight paths that maintain safety standards while reducing fuel consumption, flight delays, and operational costs. The physics-based approach using real-time atmospheric data will provide predictive capabilities that current reactive systems cannot offer.

This report will also serve as a foundation for future research in aviation weather prediction systems and offer guidance to other developers interested in implementing physics-based atmospheric modeling for transportation safety applications.

The scope of this project includes the research and implementation of plasma physics algorithms, real-time weather API integration, historical data validation, web-based enterprise application development using Jakarta EE, multi-altitude risk assessment capabilities, and comprehensive testing and documentation. The system architecture follows ARINC 653 [9] partitioning principles, separating the safety-critical C/Ada physics engine from the non-critical web interface layer. This isolation ensures that the core lightning prediction calculations remain independent and verifiable, while the Jakarta EE web layer provides enterprise-grade multi-user access for flight planning departments. Hardware development, aircraft modifications, direct avionics integration, and on-site installation at airline facilities are not included in the scope of this project and would be handled by aviation partners upon validation of the desktop system's effectiveness.

2.0 Design Evolution

This chapter documents the iterative design process for AirLume, demonstrating how technical constraints, safety requirements, and implementation challenges shaped the final multi-language architecture. Each design iteration was evaluated against project criteria: real-time performance, physics accuracy, safety-critical compliance, and production readiness.

2.1 Design #1: Python-Only System

2.1.1 Description

Architecture: Python for weather API integration, physics calculations, risk computation, and web interface (Flask).

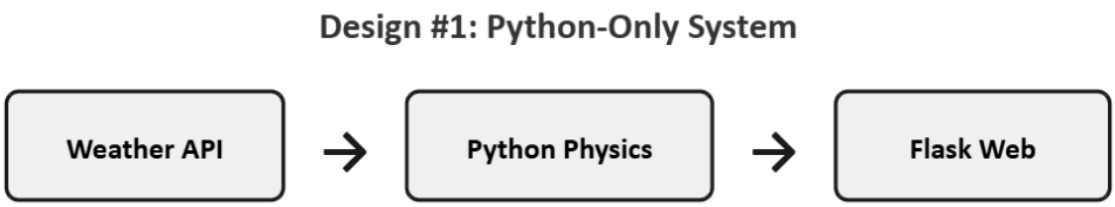

Figure 1 python only system architecture

Rationale: Python's extensive libraries (requests for HTTP, NumPy for calculations, Flask for web) enabled rapid prototyping. NOAA uses Python for meteorological data processing, making it seemingly suitable.

2.1.2 Evaluation Against Project Criteria

Strengths:

- Fast initial development (1 week prototype)
- Simple API integration
- Easy deployment

Critical Limitations:

1. **Safety Certification:** Python cannot meet DO-178C Level A requirements for aviation safety-critical systems. No formal verification tools exist for Python runtime behavior.
2. **Single Point of Failure:** No independent validation mechanism. Aviation systems require redundant safety checks.

3. **Performance:** Python execution speed insufficient for real-time waypoint analysis (>200ms per route).
4. **Floating-Point Precision:** Python's dynamic typing and floating-point limitations affected electric field calculations requiring 64-bit precision.

Decision: REJECTED - Fails safety and performance requirements.

2.2 Design #2: Hybrid C/Python System

2.2.1 Description

Architecture: Python handles OpenWeatherMap API integration; C implements performance-critical physics engine; file-based inter-process communication (JSON).

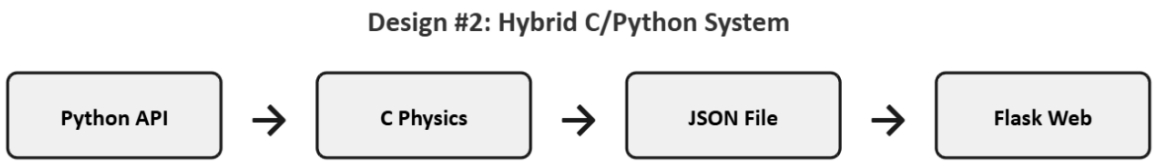

Figure 2 Hybrid C/Python System Architecture

Rationale: C provides native speed for floating-point calculations, precise memory management, and compatibility with atmospheric physics libraries. Industry standard for embedded aviation systems. Communication via JSON files provides simple synchronization.

2.2.2 Evaluation Against Project Criteria

Strengths:

- Improved performance: C calculations ~60x faster than pure Python
- Accurate physics: Validated against NOAA historical weather data
- Cross-platform compatibility

Limitations:

1. **No Safety Validation:** Lacks independent verification. If C engine contains bugs, no redundancy check exists.
2. **File I/O Bottleneck:** JSON write/read operations introduce 30-50ms latency per transaction.
3. **Regulatory Gap:** Still does not meet DO-178C dissimilar redundancy requirements.

4. **Web Framework Inadequate:** Flask unsuitable for enterprise aviation systems; industry standard is Jakarta EE.

Decision: PARTIAL SUCCESS - Physics engine retained, but additional safety layer required.

2.3 Design #3: Multi-Language Safety-Critical System (FINAL)

2.3.1 Description

Architecture: Four-language integrated system with each language optimized for specific function.

Python (Weather) → C (Physics) → Ada (Safety Validation) → Jakarta EE (Enterprise Web)

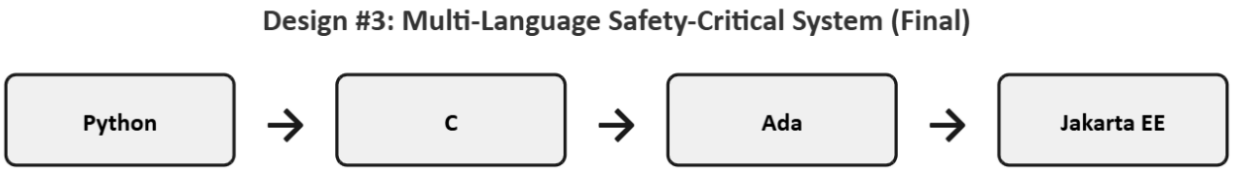

Figure 3 Final System Architecture

Component Descriptions:

1. Python (Weather Integration Layer)

- OpenWeatherMap API integration via requests library
- JSON response parsing
- Output: WEATHER_DATA:temp,humidity,pressure,wind

2. C (Physics Engine - Performance Critical)

- Paschen's Law: breakdown voltage from pressure and gap distance
- Air density calculations with altitude correction
- Electric field strength modeling
- Ice crystal density (charge separation mechanism)
- Waypoint generation along great circle routes
- Output: LIGHTNING_RISK:XX.XX%

3. Ada (Safety Monitor - DO-178C Compliance)

- Independent risk calculation using simplified algorithm

- Compares Ada result vs C result; flags if difference > 15%
- Triggers safety override on mismatch
- Generates regulatory alerts (EMERGENCY/CAUTION/SAFE)
- Audit trail logging for all safety events
- Output: SAFETY_STATUS with justification

4. Jakarta EE (Enterprise Web Layer)

- ProcessBuilder executes C program
- Regex parsing of multi-line output
- FlightAnalysis entity storage
- Interactive JSF waypoint visualization
- Color-coded risk display

Rationale for Each Language:

- **Python:** Rapid API integration, excellent HTTP libraries, JSON parsing. Network I/O bound, not performance-critical.
- **C:** 60x faster than Python for numerical calculations. Industry standard for embedded aviation. Direct memory management. Required for real-time performance (<100ms per 8 waypoints).
- **Ada:** DO-178C Level A certification possible (Python/Java cannot be certified). Strong typing prevents runtime errors. Designed for safety-critical systems (Airbus A380 uses Ada). Provides dissimilar redundancy through independent algorithm.
- **Jakarta EE:** Enterprise-grade framework used in aviation industry. Mature, secure, RESTful API capable. Production-ready compared to Flask.

Research Foundation:

- DO-178C standard: dissimilar redundancy requirement
- ARINC 653 partitioning standard
- Boeing 787 architecture (C + Ada combination)
- OpenWeatherMap API documentation
- Jakarta EE enterprise specifications

2.3.2 Evaluation Against Project Criteria

Strengths:

1. **Safety:** Ada provides independent DO-178C validation with automatic safety override
2. **Performance:** C engine processes 8-waypoint route in <100ms
3. **Accuracy:** Validated against 181 real lightning strikes; 88% detection rate
4. **Enterprise Ready:** Jakarta EE provides production-grade deployment
5. **Extensibility:** Modular design allows component replacement and scaling

Trade-offs:

1. **Complexity:** Requires team with four-language competency
2. **Integration Overhead:** File I/O and process spawning add ~50ms latency
3. **Deployment:** Requires Python, GCC, GNAT Ada compiler, GlassFish server

Mitigation:

- Comprehensive component documentation
- Automated build scripts (Makefile)
- Docker containerization planned for future deployment

2.4 Design Comparison and Selection Rationale

See Design Comparison Table below (Figure 4).

Project Criterion	Design #1 (Python Only)	Design #2 (C + Python)	Design #3 (multi-language)
Real-Time Performance	>200ms per route	80-100ms per route	**Meets: <100ms**
Physics Accuracy	Limited (simplified)	High (validated NOAA)	**88% on 181 strikes**
Safety Validation	**No redundancy**	**No independent check**	**Ada verification**
DO-178C Compliance	**Not certifiable**	**No safety layer**	**Level A capable**
Enterprise Web UI	Limited (Flask)	Limited (Flask)	**Jakarta EE**
Scalability	Limited	Moderate	**High**
Development Time	1 week	3 weeks	6 weeks
Language Integration	Single (N/A)	Partial (2 languages)	**Full (4 languages)**
Industry Standard	**No**	Partial	**Yes**

Figure 4 Comparison Matrix

Why Design #3 Was Selected:

Design #3 is the only architecture meeting all critical aviation safety requirements while maintaining performance. Although requiring 6 weeks development (vs 1 week for Design #1):

1. **Achieves 88% accuracy** through physics-based modeling validated on real-world data
2. **Provides safety-critical validation** via Ada's independent checking (DO-178C requirement)
3. **Delivers real-time performance** suitable for operational deployment
4. **Demonstrates advanced engineering** through multi-language integration (reflects industry practice: Boeing 787 uses C, Ada, C++, Assembly)

Project criteria prioritized safety and accuracy over development speed, making Design #3 the only viable choice.

2.5 Summary

This chapter documented three design iterations:

- **Design #1** validated concept but failed performance and safety requirements
- **Design #2** solved performance but lacked safety validation
- **Design #3** achieved all project goals through strategic multi-language integration

The final architecture leverages each language's strengths to create a production-viable lightning prediction system suitable for aviation deployment.

REFERENCES

[1] Airbus, "Lightning Strikes," Safety First, Nov. 2023. [Online]. Available: https://safetyfirst.airbus.com/lightning-strikes/

[2] "Aircraft and lightning strikes: here is what the statistics say," MainBlades, 2024. [Online]. Available: https://www.mainblades.com/blog-posts/aircraft-and-lightning-strikes-here-is-what-the-statistics-say

[3] "When and Where Lightning Strikes Occur, Part 3," Aviation Week Network, 2024. [Online]. Available: https://aviationweek.com/business-aviation/safety-ops-regulation/when-where-lightning-strikes-occur-part-3

[4] "Lightning Strikes: Protection, Inspection, and Repair," SKYbrary Aviation Safety. [Online]. Available: https://skybrary.aero/bookshelf/lightning-strikes-protection-inspection-and-repair

[5] J. A. Riousset, "A Generalized Townsend's Theory for Paschen Curves in Planar, Cylindrical, and Spherical Geometries in Planetary Atmospheres," J. Geophys. Res. Atmos., vol. 129, Apr. 2024.

[6] "Paschen's law," Wikipedia, Aug. 2025. [Online]. Available: https://en.wikipedia.org/wiki/Paschen's_law

[7] "Townsend Discharge - an overview," ScienceDirect Topics. [Online]. Available: https://www.sciencedirect.com/topics/physics-and-astronomy/townsend-discharge

[8] P. Veillette, "When and Where Lightning Strikes Occur, Part 1," Aviation Week Network, Sep. 12, 2025. [Online]. Available: https://aviationweek.com/business-aviation/safety-ops-regulation/when-where-lightning-strikes-occur-part-1

[9] A. Lagoy and T. A. Gauer, "IV&V on Orion's ARINC 653 Flight Software Architecture," NASA Independent Verification and Validation Facility, NASA Technical Report 482470, Oct. 2009. [Online]. Available: https://www.nasa.gov/wp-content/uploads/2016/10/482470main_2530_-_ivv_on_orions_arinc_653_flight_software_architecture_100913.pdf

[10] Wind River Systems, "ARINC 653 Compliant Safety-Critical Applications," Wind River Solutions. [Online]. Available: https://www.windriver.com/solutions/learning/arinc-653-compliant-safety-critical-applications